

Fig. 1. This kiosk displaying three non-museum panels was funded by the New York State Canal Corporation and installed in 2019. Enlarged versions can be seen on the following pages.

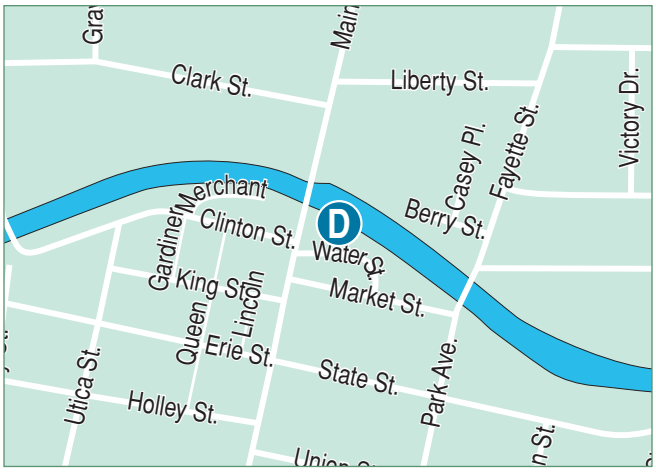

Fig. 2. Kiosk location is between the parking lot and the west side of the Welcome Center, here indicated by "**D**" in a blue circle.

Fig. 3. You are looking east from near the parking lot. The structure going off frame to the right is the Welcome Center.

Fig. 1 & 3 Photos taken 2021.07.12 by Norm Frisch
Fig. 2 Version 2021.07.24 by Norm Frisch

Erie Canal

The Erie Canal is North America's most successful and enduring man-made waterway. Opened in 1825, it connects the Atlantic Ocean to the upper Great Lakes. The canal runs east and west more than 350 miles between the Hudson River near Albany and Lake Erie at Buffalo. Along the way, locks raise and lower boats more than 570 feet.

The canal opened the interior of North America and transformed New York into the Empire State. Settlers and immigrants pressed westward on the Erie Canal, giving rise to cities and new industries in New York and the Midwest. The products of farms and factories moved east to markets along the Atlantic.

Enlarged over the years to accommodate larger boats, the Erie Canal still operates as an active and historic waterway for all to enjoy.

The Canal System

You can travel the Erie Canal by boat, bike, or on foot across New York State. The Cayuga-Seneca, Oswego, and Champlain canals branch off to form a network of inland waterways connecting the Great Lakes, Finger Lakes, Lake Champlain, and Canadian waters.

Erie Canalway National Heritage Corridor
Erie Canalway National Heritage Corridor preserves our extraordinary canal heritage, promotes tourism and recreation, and fosters vibrant communities connected by New York's canal system.

ERIE CANALWAY National Heritage Corridor

NEW YORK CANALS

New York State Canal Corporation
The New York State Canal Corporation operates all four branches of the canal system. It manages 524 miles of waterways, 57 lift locks, scores of historic structures, and a cross-state trail along the Erie Canal.

The Erie Canal in Brockport

The Erie Canal had far-reaching impacts for places like Brockport. By connecting the community with the wider world, the canal transformed Brockport from a small settlement into a thriving center of agriculture and manufacturing.

Canal boats carried mowers and reapers from Brockport's agricultural machinery builders to farms in the newly-opened Midwest. When the boats returned, they were loaded with grain that those machines helped harvest.

Brockport canneries packaged local fruits and vegetables and shipped them by canal to cities along the coast.

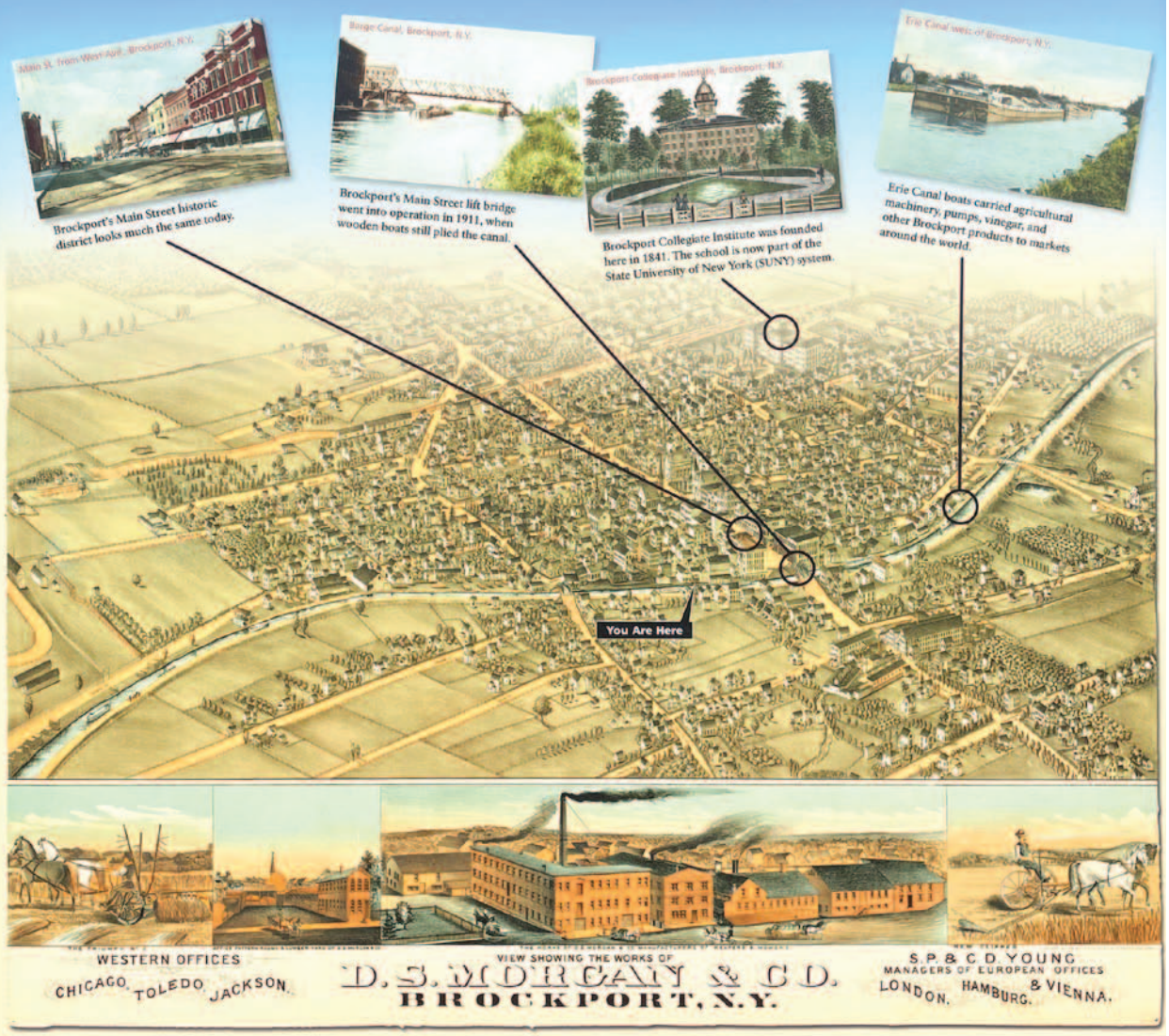

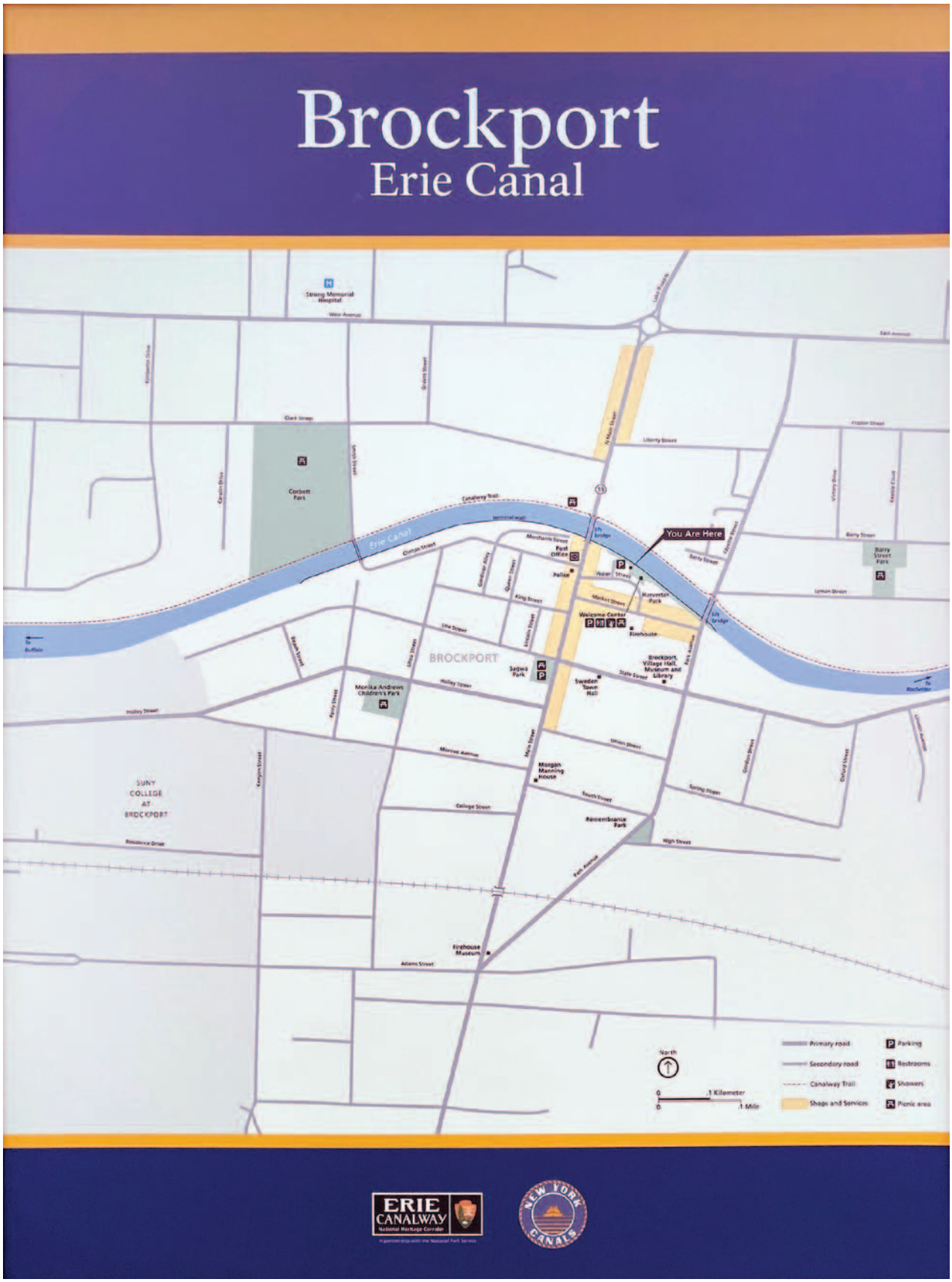
Brockport
Erie Canal
You Are Here
Erie Canal
Canalway Trail
Corbett Park
Strong Memorial Hospital
West Avenue
Clark Street
Lewis Street
Grove Street
Clinton Street
Main Street
Liberty Street
Frazier Street
Victory Drive
Barry Street
Barry Street Park
Lyman Street
Market Street
Harvester Park
Welcome Center
Firehouse
Lift Bridge
Post Office
Police
Merchants Street
Water Street
Queen Street
King Street
Lincoln Street
Utica Street
BROCKPORT
Sagawa Park
Sweden Town Hall
Brockport Village Hall, Museum and Library
State Street
Park Avenue
Monika Andrews Children's Park
Holley Street
Perry Street
Morrow Avenue
Union Street
Morgan Manning House
South Street
College Street
Spring Street
Stetson Street
Oxford Street
Remembrance Park
High Street
Fifth Avenue
SUNY COLLEGE AT BROCKPORT
Residence Drive
Kenyon Street
Adams Street
Firehouse Museum
To Buffalo
To Rochester
North
0 1 Kilometer
0 1 Mile
Primary road
Secondary road
Canalway Trail
Shops and Services
Parking
Restrooms
Showers
Picnic area
ERIE CANALWAY
National Heritage Corridor
NEW YORK CANALS