The Brockport Community Museum

Mission

The Museum is a not-for-profit 501(c)(3) organization chartered by the State of New York in 2010. Having no building of our own, we are a "Museum without Walls".

Projects

The Museum brings local history to residents and visitors by creating interpretive panels and exhibit cases placed throughout the greater Brockport area—and through a website.

Museum web site:

http://www.brockportcommunitymuseum.org

Museum contact:

Email: admin@brockportcommunitymuseum.org
Phone: 585-637-5300 x112 (Brockport Village Clerk/Manager)

©2021.07.27 BCM Destinations: Norm Frisch

Interpretive Panels

Outdoor location key:
Red circles = Museum placements.
Blue circles = Other placements.

Themes:
http://www.brockportcommunitymuseum.org/panels.html

- **A.** Public Education; Brockport Central School
- **B.** Higher Education; SUNY College at Brockport
- **C.** Fire Fighting; The Protectives Inc. No.1
- **D.** Canal Commerce
- **E.** Fire Fighting; Brockport Fire Department
- **F.** Historic Downtown Churches
- **G.** Main Street Enterprises in the Early 1900s
- **H.** Early Farming and Farm Families
- **I.** Portraits of Our Past mural
- **J.** Capen Hose Co. No.4 and Fire Museum
- **K.** Fifth International Special Olympics
- **L.** The Morgan-Manning House
- **M.** Brockport and the Canal
- **N.** Manufacturing in Brockport

- **A.** The Canalway Trail / Lift Bridges
- **B.** Helen Fabi Smagorinsky; Folk Artist
- **C.** Outdoor Art
- **D.** Brockport Erie Canal kiosk

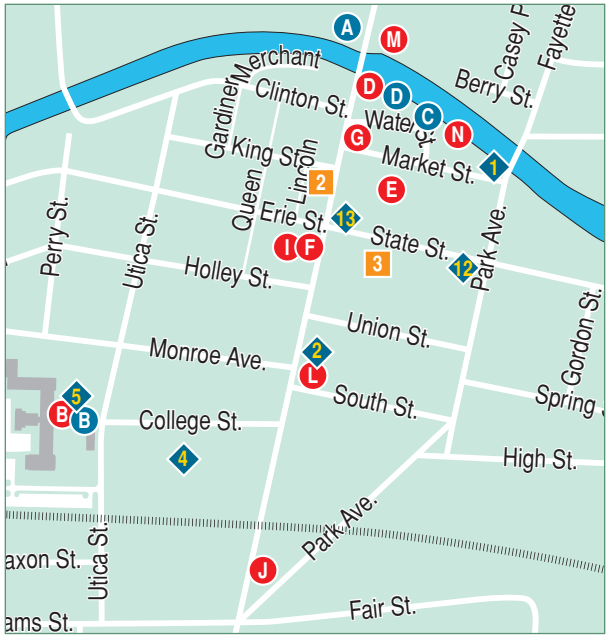

Downtown Brockport (enlarged from map on reverse).

Exhibit Cases

Themes:

Exhibits rotate on a regular basis. For updates see our web site:
http://www.brockportcommunitymuseum.org/exhibitcases.html

– Oliver Middle School building history
– Brockport in the Civil War
– Brockport and the Canal
– Firefighting in Brockport
– Manufacturing I (buttons, dolls, tin ware, fishing tackle, etc.)
– Manufacturing II (food processing, farm implements, etc.)
– Postcards of Brockport 100 Years Ago
– Mary Jane Holmes
– Retail Trade and Commerce in Brockport

Indoor location key (contact hosts for hours)**:**
Orange squares = Museum placements.

1. Seymour Library; main reading room (637-1050)
2. Chase Bank; lobby (637-3946)
3. Sweden Town Hall; lobby (637-2144)
4. High School; main entrance lobby (637-1870)
5. Oliver Middle School; second floor library (637-1860)
6. Hill School; second floor corridor (637-1850)
7. Sweden/Clarkson Community Center; lobby (431-0090)
8. Drake Memorial Library; main reading room (395-2277)
9. Walmart Supercenter; west wall (637-6331)

Brockport Destinations

Brockport Community Museum

Interpretive Panel and Exhibit Case Tour Brochure



Brochure courtesy of:
Brockport Community Museum
a "Museum Without Walls"
http://www.brockportcommunitymuseum.org

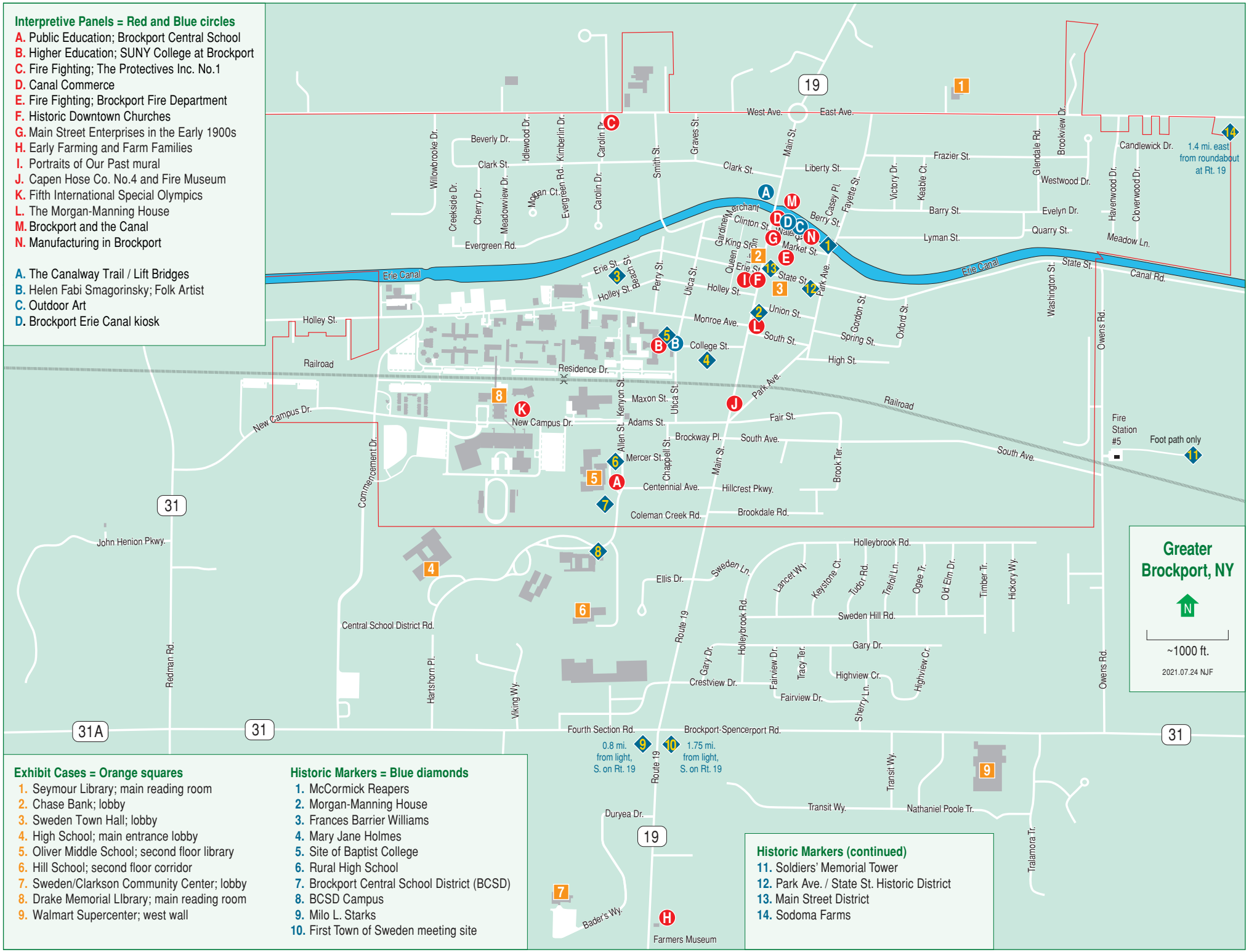
Interpretive Panels = Red and Blue circles
A. Public Education; Brockport Central School
B. Higher Education; SUNY College at Brockport
C. Fire Fighting; The Protectives Inc. No.1
D. Canal Commerce
E. Fire Fighting; Brockport Fire Department
F. Historic Downtown Churches
G. Main Street Enterprises in the Early 1900s
H. Early Farming and Farm Families
I. Portraits of Our Past mural
J. Capen Hose Co. No.4 and Fire Museum
K. Fifth International Special Olympics
L. The Morgan-Manning House
M. Brockport and the Canal
N. Manufacturing in Brockport
A. The Canalway Trail / Lift Bridges
B. Helen Fabi Smagorinsky; Folk Artist
C. Outdoor Art
D. Brockport Erie Canal kiosk
Greater Brockport, NY
N
~1000 ft.
2021.07.24 NJF
Exhibit Cases = Orange squares
1. Seymour Library; main reading room
2. Chase Bank; lobby
3. Sweden Town Hall; lobby
4. High School; main entrance lobby
5. Oliver Middle School; second floor library
6. Hill School; second floor corridor
7. Sweden/Clarkson Community Center; lobby
8. Drake Memorial LIbrary; main reading room
9. Walmart Supercenter; west wall
Historic Markers = Blue diamonds
1. McCormick Reapers
2. Morgan-Manning House
3. Frances Barrier Williams
4. Mary Jane Holmes
5. Site of Baptist College
6. Rural High School
7. Brockport Central School District (BCSD)
8. BCSD Campus
9. Milo L. Starks
10. First Town of Sweden meeting site
Historic Markers (continued)
11. Soldiers' Memorial Tower
12. Park Ave. / State St. Historic District
13. Main Street District
14. Sodoma Farms
Erie Canal
Railroad
19
31
31A
West Ave.
East Ave.
Clark St.
Liberty St.
Frazier St.
Barry St.
Lyman St.
Quarry St.
Evelyn Dr.
Westwood Dr.
Candlewick Dr.
1.4 mi. east from roundabout at Rt. 19
Meadow Ln.
Canal Rd.
State St.
Holley St.
Monroe Ave.
Union St.
South St.
College St.
High St.
Spring St.
Park Ave.
Residence Dr.
Maxon St.
Adams St.
Fair St.
South Ave.
Brockway Pl.
Mercer St.
Centennial Ave.
Hillcrest Pkwy.
Brookdale Rd.
Coleman Creek Rd.
New Campus Dr.
Commencement Dr.
John Henion Pkwy.
Redman Rd.
Central School District Rd.
Hartshorn Pl.
Viking Wy.
Ellis Dr.
Sweden Ln.
Holleybrook Rd.
Sweden Hill Rd.
Gary Dr.
Crestview Dr.
Fairview Dr.
Highview Cr.
Sherry Ln.
Fourth Section Rd.
Brockport-Spencerport Rd.
0.8 mi. from light, S. on Rt. 19
1.75 mi. from light, S. on Rt. 19
Route 19
Transit Wy.
Nathaniel Poole Tr.
Duryea Dr.
Bader's Wy.
Farmers Museum
Fire Station #5
Foot path only
Owens Rd.
Washington St.
Brookview Dr.
Glendale Rd.
Havenwood Dr.
Cloverwood Dr.
Tralamora Tr.